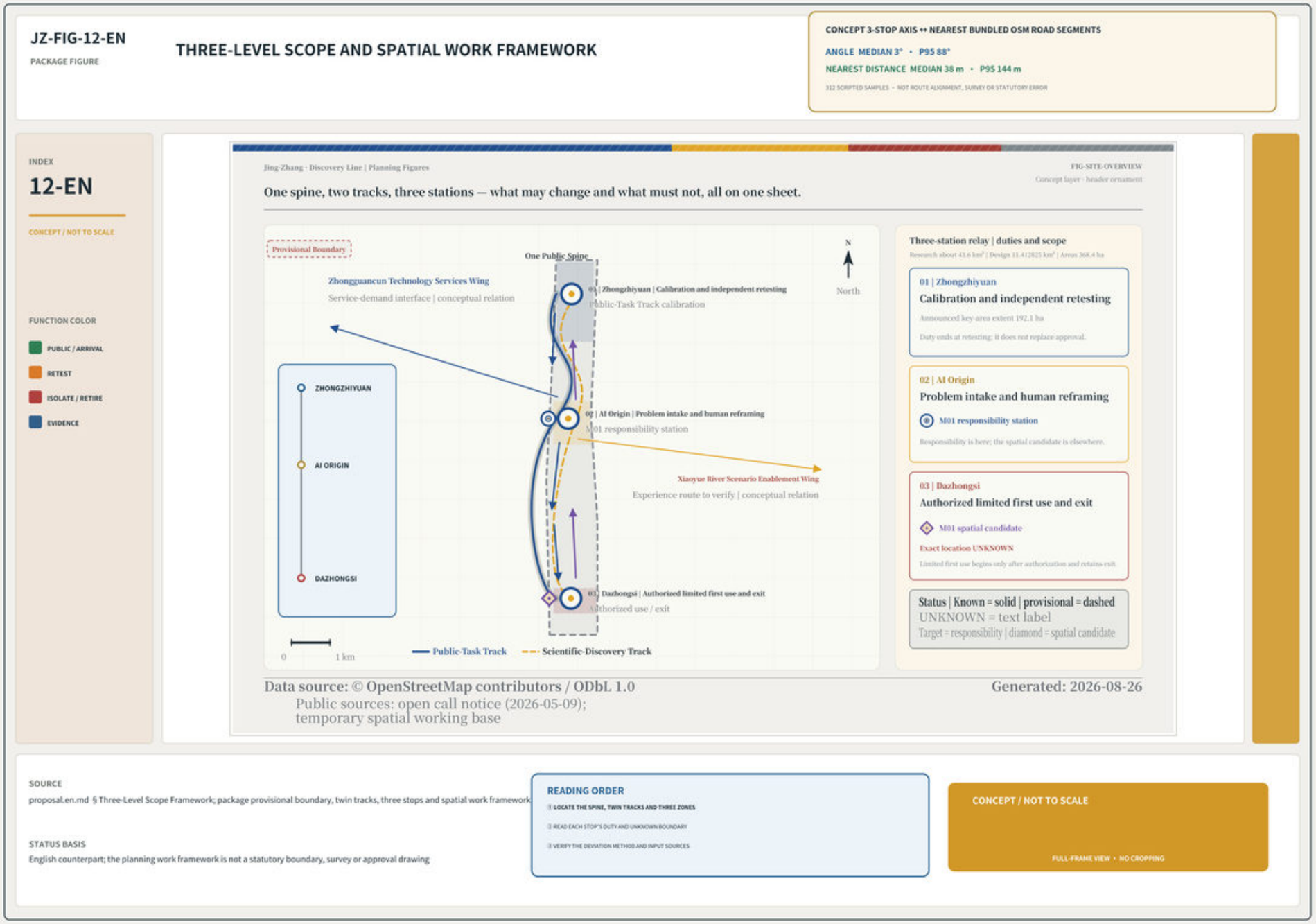

Three-level scope and spatial work framework

The first-page figure is embedded at approximately 162 ppi for its actual placement; source, boundary and UNKNOWN remain unchanged.

PROPOSAL DEFINITION

Using Jing-Zhang Railway Heritage Park as a public spine, this proposal turns urban questions into scientific and civic action that can be falsified, retested, and exited.

STEP 1

The question enters AI Origin.

STEP 2

Anything that needs instruments or protocol review goes to Zhongzhiyuan for calibration and independent retesting.

STEP 3

An option may be tried on a limited basis at Dazhongsi or another duly empowered setting only after the authorization conditions have been met.

CURRENT STATUS

Responsible person: UNKNOWN. Stop authority: UNKNOWN | pending confirmation of the formal responsible entity. Retest date: UNKNOWN. Restoration cost: UNKNOWN. Current status: Not approved • Not authorized • Not implemented.

INDEX OF 23 FORMAL-FIGURE PAIRS

01 Three-level scope and spatial work framework

02 Five-Minute Reviewer Evidence Read | Navigation only; evidence status is not upgraded and UNKNOWN remains

03 Whole-Line Sequence | Mechanism order only; not a schedule and not authorization

04 Regional innovation synergy interface | Five counterparts enter, retest, and exit through two tracks and three stations

05 Key Map | M01 responsibility is in one place; its spatial candidate is in another

06 Figure 2 | 983 Land-Use Polygons Take the Lead

07 Composite transport, Walking and Cycling Network, municipal, and Blue-Green Public Space diagram

08 Figure 3 | One Responsibility per Area; a Responsibility Station Is Not a Spatial Location

09 Zhongzhiyuan Triptych | CC photograph + OSM anchor + conceptual illustration; not an intervention location or current condition

10 Figure 3A | ZHONGZHIYUAN | RETEST PLATFORM—PUBLIC EXPLANATION—EQUIPMENT EXIT INTERFACE

11 AI Origin Triptych | CC photograph + OSM anchor + conceptual illustration; not an intervention location or current condition

12 Figure 3B | AI ORIGIN | NO-APP QUESTION ENTRY—HUMAN QUESTION TRANSLATION—MANUAL SAMPLING INTERFACE

13 Dazhongsi Triptych | CC photograph + OSM anchor + conceptual illustration; not an intervention location or current condition

14 Figure 3C | DAZHONGSI | WITHDRAWABLE GROUND-FLOOR—KERB—PARK UNIT

15 AI ON / OFF: What disappears, and what remains?

16 V03 | Four States of One M01 Conceptual Kerbside

17 V16 | M01 Three-State Conceptual Sections on One Baseline

18 Figure 5 | Nothing Moves Until the Signature Line Is Filled

19 Figure 5B | Responsibility, Dependencies, and Handoff Detail

20 Metric Card | Responsibility awaits sign-off; not authorization

21 Metric Card | Dependencies remain open; not authorization

22 Metric Card | Handoff awaits acceptance; not authorization

23 Taskbook Crosswalk | What is answered, and what is still missing?

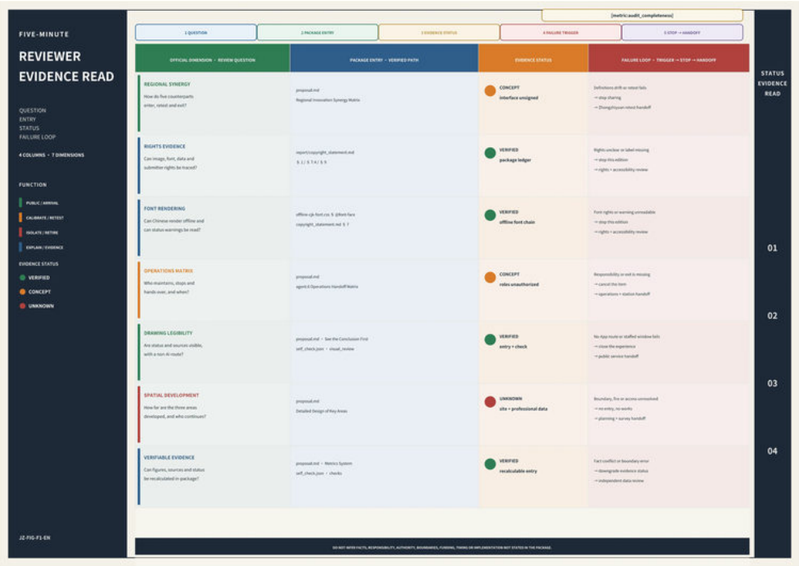

Five-Minute Reviewer Evidence Read | Navigation only; evidence status is not upgraded and UNKNOWN remains

Embedded at actual ppi for actual placement; source, boundary and UNKNOWN remain unchanged.

Conceptual recommendation | Not approved • Not authorized • Not implemented

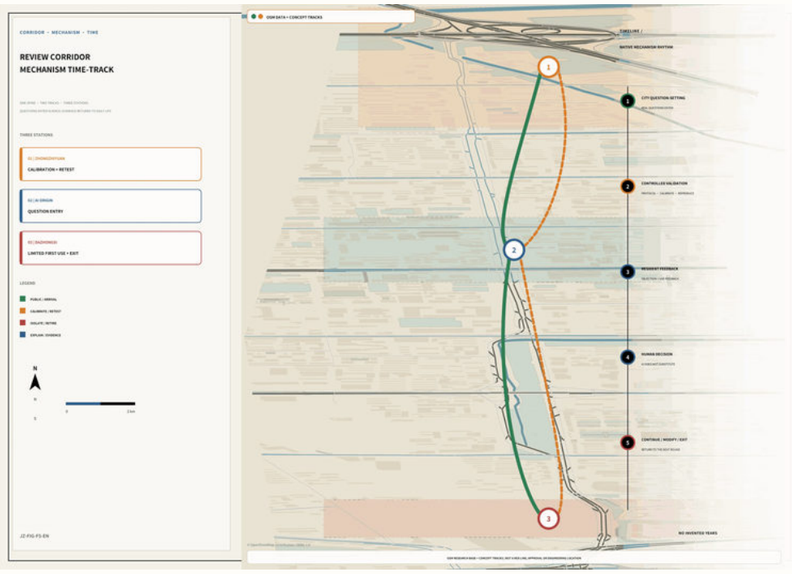

Whole-Line Sequence | Mechanism order only; not a schedule and not authorization

Embedded at actual ppi for actual placement; source, boundary and UNKNOWN remain unchanged.

Conceptual recommendation | Not approved • Not authorized • Not implemented

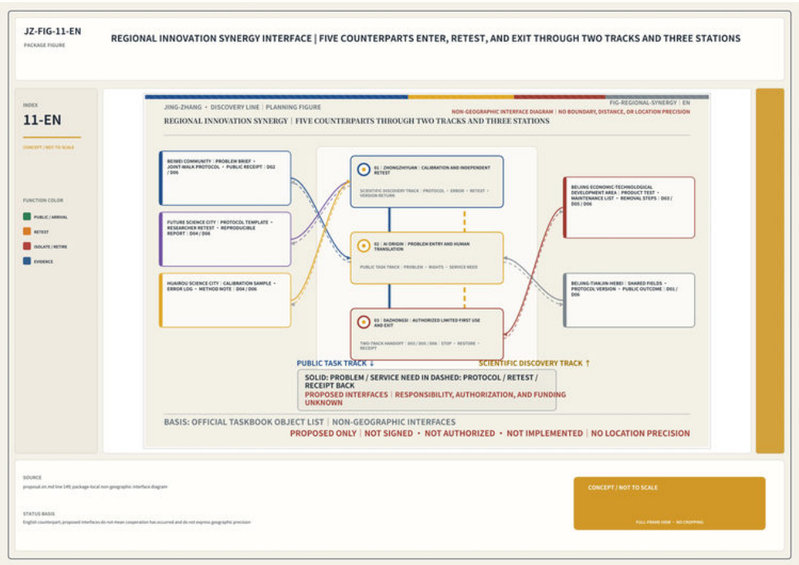

Regional innovation synergy interface | Five counterparts enter, retest, and exit through two tracks and three stations

Embedded at actual ppi for actual placement; source, boundary and UNKNOWN remain unchanged.

Conceptual recommendation | Not approved • Not authorized • Not implemented



Key Map | M01 responsibility is in one place; its spatial candidate is in another

Embedded at actual ppi for actual placement; source, boundary and UNKNOWN remain unchanged.

Conceptual recommendation | Not approved • Not authorized • Not implemented

Figure 2 | 983 Land-Use Polygons Take the Lead

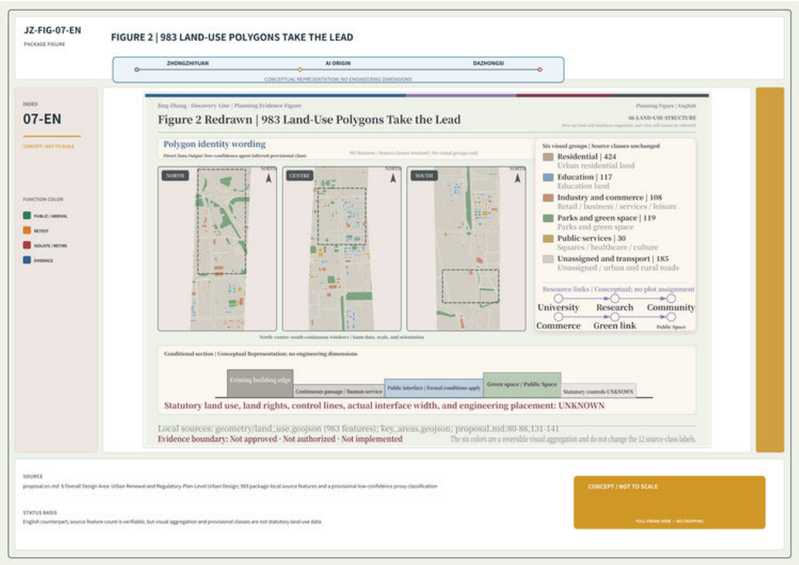

Figure 2 | 983 Land-Use Polygons Take the Lead

Embedded at actual ppi for actual placement; source, boundary and UNKNOWN remain unchanged.

Conceptual recommendation | Not approved • Not authorized • Not implemented



Composite transport, Walking and Cycling Network, municipal, and Blue-Green Public Space diagram

Embedded at actual ppi for actual placement; source, boundary and UNKNOWN remain unchanged.

Conceptual recommendation | Not approved • Not authorized • Not implemented

Figure 3 | One Responsibility per Area; a Responsibility Station Is Not a Spatial Location



Figure 3 | One Responsibility per Area; a Responsibility Station Is Not a Spatial Location

Embedded at actual ppi for actual placement; source, boundary and UNKNOWN remain unchanged.

Conceptual recommendation | Not approved • Not authorized • Not implemented

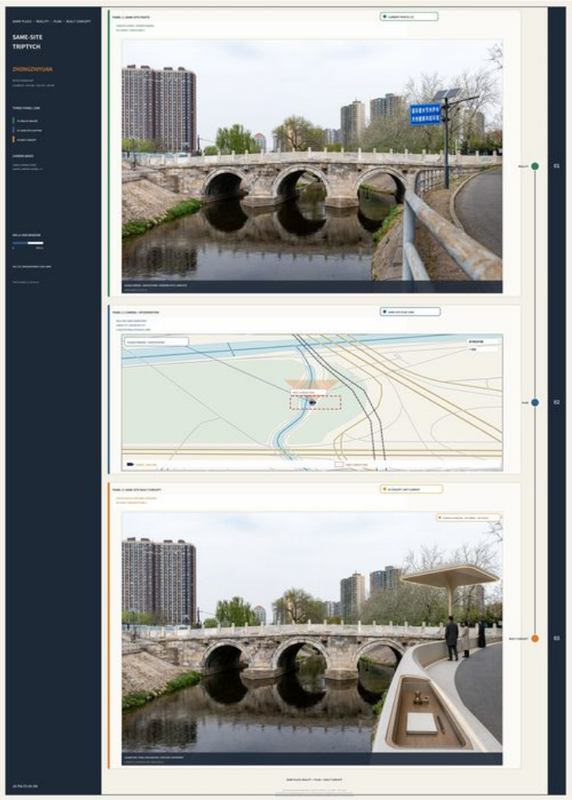

Zhongzhiyuan Triptych | CC photograph + OSM anchor + conceptual illustration; not an intervention location or current condition

Embedded at actual ppi for actual placement; source, boundary and UNKNOWN remain unchanged.

Conceptual recommendation | Not approved • Not authorized • Not implemented

Figure 3A | ZHONGZHIYUAN | RETEST PLATFORM—PUBLIC EXPLANATION—EQUIPMENT EXIT INTERFACE



Figure 3A | ZHONGZHIYUAN | RETEST PLATFORM—PUBLIC EXPLANATION—EQUIPMENT EXIT INTERFACE

Embedded at actual ppi for actual placement; source, boundary and UNKNOWN remain unchanged.

Conceptual recommendation | Not approved · Not authorized · Not implemented

11 AI Origin Triptych | CC photograph + OSM anchor + conceptual illustration; not an intervention location or current condition

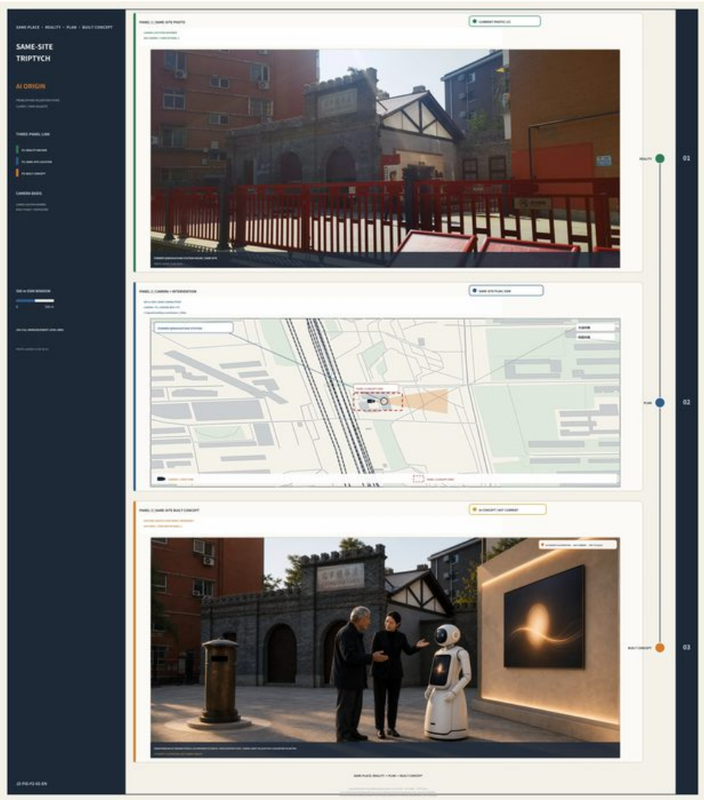

AI Origin Triptych | CC photograph + OSM anchor + conceptual illustration; not an intervention location or current condition

Embedded at actual ppi for actual placement; source, boundary and UNKNOWN remain unchanged.

Conceptual recommendation | Not approved • Not authorized • Not implemented

Figure 3B | AI ORIGIN | NO-APP QUESTION ENTRY—HUMAN QUESTION TRANSLATION—MANUAL SAMPLING INTERFACE

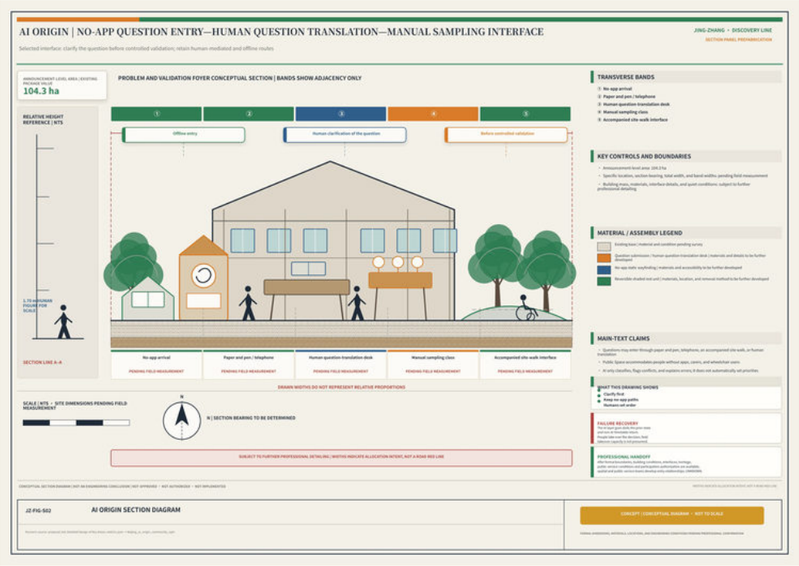

Figure 3B | AI ORIGIN | NO-APP QUESTION ENTRY—HUMAN QUESTION TRANSLATION—MANUAL SAMPLING INTERFACE

Embedded at actual ppi for actual placement; source, boundary and UNKNOWN remain unchanged.

Conceptual recommendation | Not approved • Not authorized • Not implemented

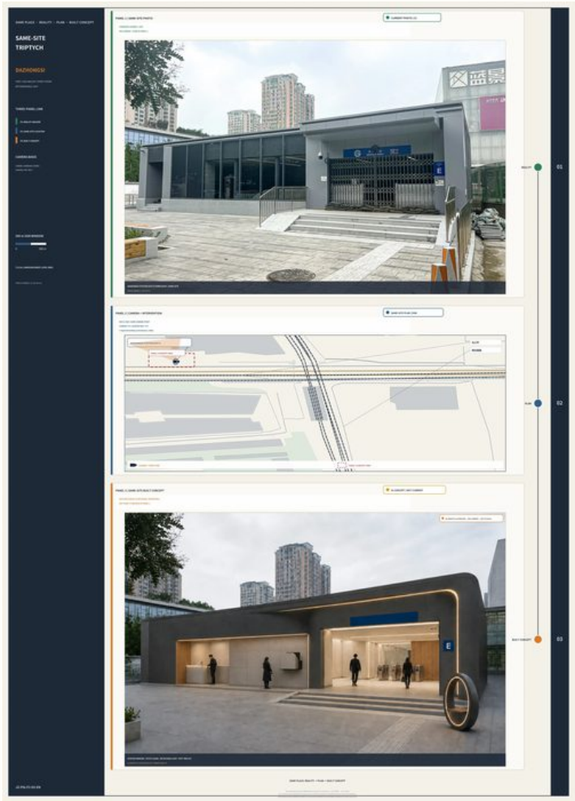

Dazhongsi Triptych | CC photograph + OSM anchor + conceptual illustration; not an intervention location or current condition

Embedded at actual ppi for actual placement; source, boundary and UNKNOWN remain unchanged.

Conceptual recommendation | Not approved • Not authorized • Not implemented

Figure 3C | DAZHONGSI | WITHDRAWABLE GROUND-FLOOR—KERB—PARK UNIT

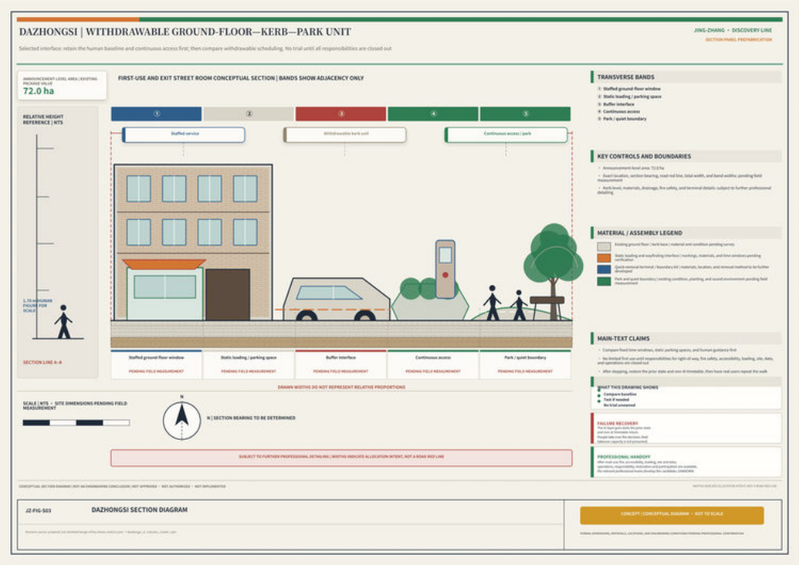

Figure 3C | DAZHONGSI | WITHDRAWABLE GROUND-FLOOR—KERB—PARK UNIT

Embedded at actual ppi for actual placement; source, boundary and UNKNOWN remain unchanged.

Conceptual recommendation | Not approved • Not authorized • Not implemented

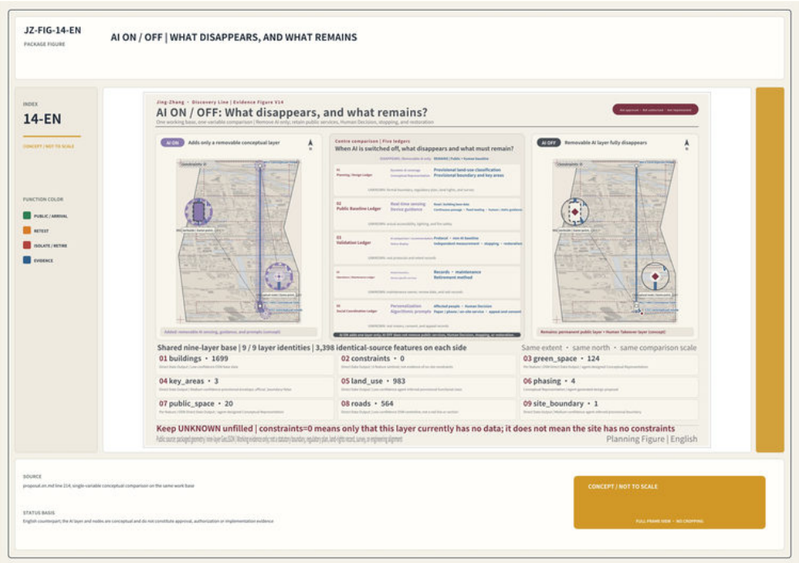

AI ON / OFF: What disappears, and what remains?

Embedded at actual ppi for actual placement; source, boundary and UNKNOWN remain unchanged.

Conceptual recommendation | Not approved • Not authorized • Not implemented

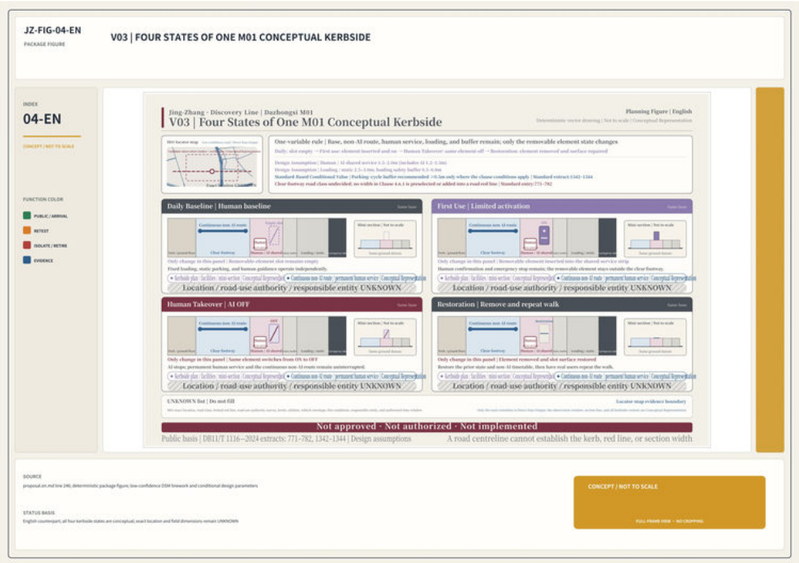

V03 | Four States of One M01 Conceptual Kerbside

Embedded at actual ppi for actual placement; source, boundary and UNKNOWN remain unchanged.

Conceptual recommendation | Not approved • Not authorized • Not implemented



V16 | M01 Three-State Conceptual Sections on One Baseline

Embedded at actual ppi for actual placement; source, boundary and UNKNOWN remain unchanged.

Conceptual recommendation | Not approved • Not authorized • Not implemented

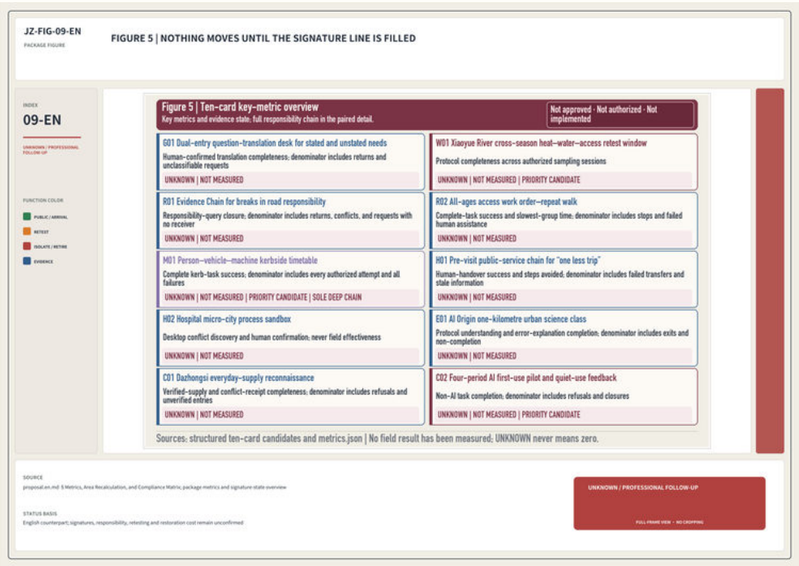

Figure 5 | Nothing Moves Until the Signature Line Is Filled

Embedded at actual ppi for actual placement; source, boundary and UNKNOWN remain unchanged.

Conceptual recommendation | Not approved • Not authorized • Not implemented



Figure 5B | Responsibility, Dependencies, and Handoff Detail

Embedded at actual ppi for actual placement; source, boundary and UNKNOWN remain unchanged.

Conceptual recommendation | Not approved • Not authorized • Not implemented

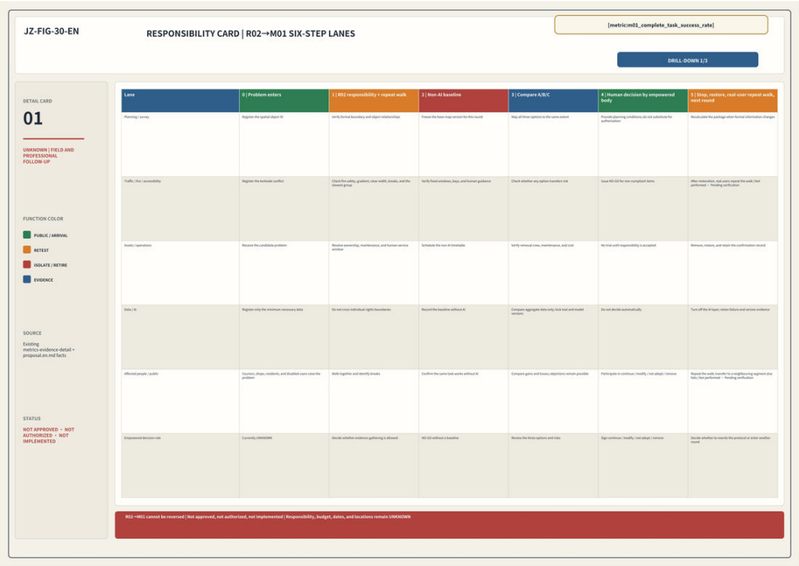

Metric Card | Responsibility awaits sign-off; not authorization

Embedded at actual ppi for actual placement; source, boundary and UNKNOWN remain unchanged.

Conceptual recommendation | Not approved • Not authorized • Not implemented



Metric Card | Dependencies remain open; not authorization

Embedded at actual ppi for actual placement; source, boundary and UNKNOWN remain unchanged.

Conceptual recommendation | Not approved • Not authorized • Not implemented

Metric Card | Handoff awaits acceptance; not authorization

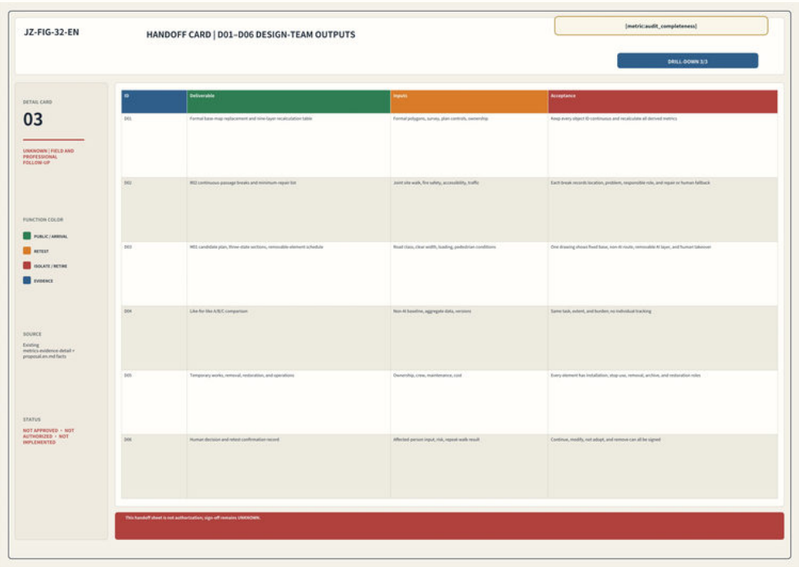

Metric Card | Handoff awaits acceptance; not authorization

Embedded at actual ppi for actual placement; source, boundary and UNKNOWN remain unchanged.

Conceptual recommendation | Not approved • Not authorized • Not implemented

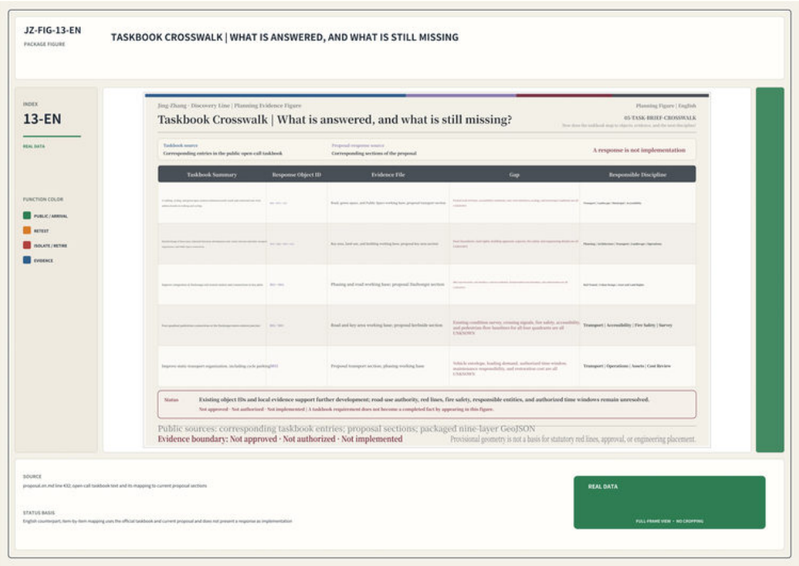

Taskbook Crosswalk | What is answered, and what is still missing?

Embedded at actual ppi for actual placement; source, boundary and UNKNOWN remain unchanged.

Conceptual recommendation | Not approved • Not authorized • Not implemented

RIGHTS, STATUS, AND HANDOFF BOUNDARIES

01 The first cells of the three triptychs use photographs by N509FZ, Guangji Bridge (CC BY-SA 4.0); Lhzss8, Qinghuayuan old house (CC BY-SA 4.0); and N509FZ, Dazhongsi exit E (CC BY-SA 4.0). Authors, licences, source URLs, and uses are reviewable in the bundled rights record.

02 F2 and F5 use OpenStreetMap material under ODbL: © OpenStreetMap contributors. OSM serves only as a community-map anchor, not an official survey, current condition, or intervention location.

03 F1, F5, and the responsibility, dependency, and handoff metric cards are team-authored. All 23 figure pairs retain their conceptual and evidence status, including UNKNOWN; none indicates approval, authorization, scheduling, or implementation.

04 For complete rights, sources, licences, fonts, and redistribution boundaries, see report/copyright_statement.md and sources.json. This page is a reading index and does not replace the itemized bundled rights record.